Overview

Jan 1, 2020 - Jan 15, 2023

Total Rides	Avg Duration	Peak Hour Share	Imbalanced Flag
32,342,086	21.8 min	29.4%	6.15%

Daily Ride Trend

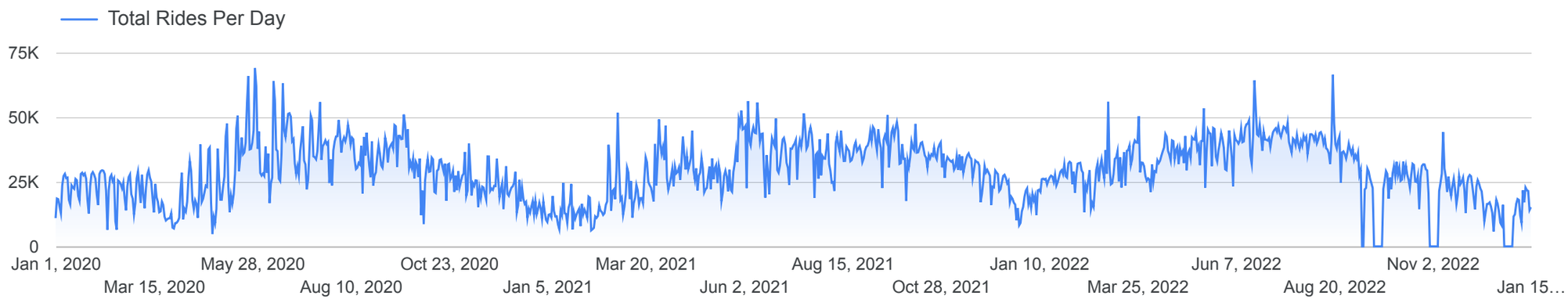

Rides Per Hour

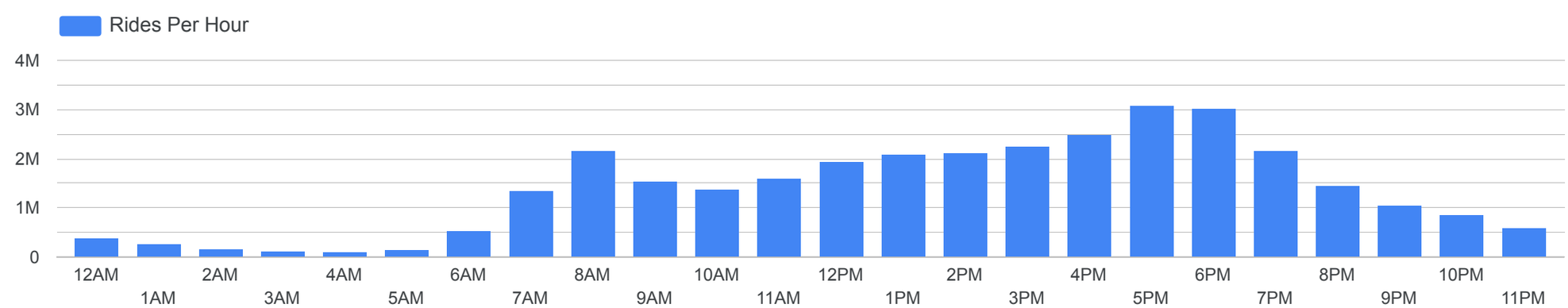

Station Mapping

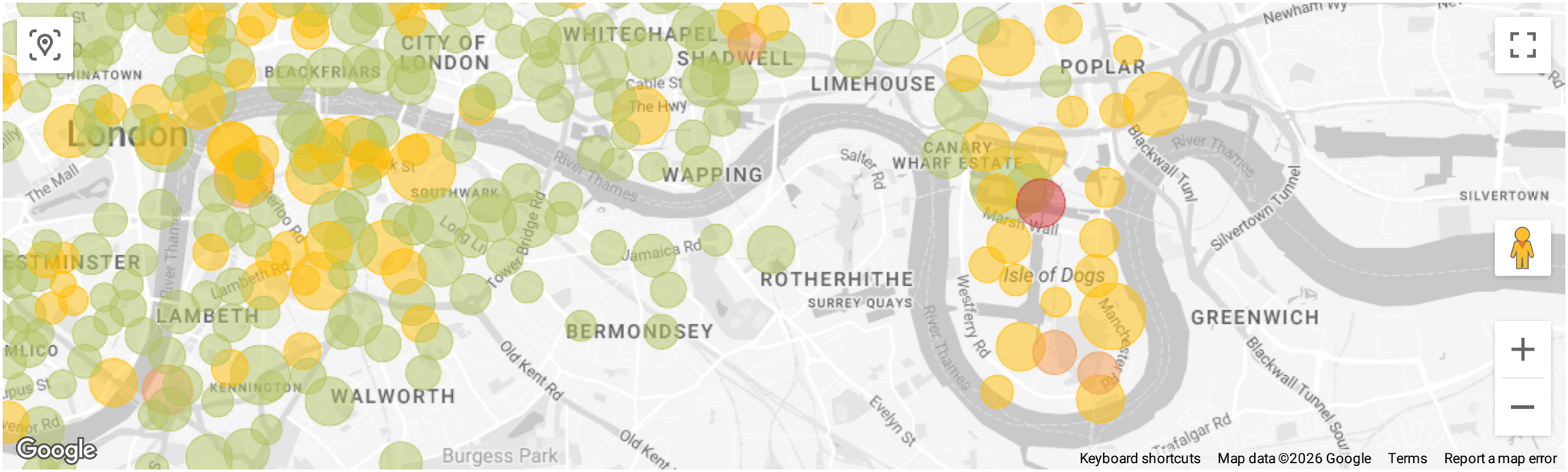

nb_docks
10 • ● ● 64

rebalancing_priority
MEDIUM LOW HIGH CRITICAL

Top 20 Problem Zones (based on imbalance score)

	Station	Zone	Location	Rebalancing Priority	7-day Avg…	Docks
1.	Ladbroke Grove Central, Ladbroke Grove	Kensington & Chelsea	51.511624,-0.205921	CRITICAL	0.30	21
2.	Westbourne Green, Westbourne	Other	51.522168,-0.1928141999999…	CRITICAL	0.29	21
3.	South Quay East, Canary Wharf	East End & Canary Wharf	51.50196,-0.016251	CRITICAL	0.28	36
4.	Cloudesley Road, Angel	Camden & Islington	51.53440868,-0.109025404	HIGH	0.25	37
5.	Santos Road, Wandsworth	Other	51.45705988,-0.200806304	HIGH	0.24	30
6.	Colet Gardens, Hammersmith	Kensington & Chelsea	51.491093,-0.216493	HIGH	0.24	30
7.	Waterloo Station 2, Waterloo	Waterloo & Southbank	51.50391973,-0.11342629	HIGH	0.23	48

Rebalance Management

Dec 1, 2020 - Dec 31, 2020

The Rebalance Management dashboard identifies stations with critical imbalance scores above 0.25, indicating a significant mismatch between bike departures and arrivals. Operations managers can assess which stations need immediate crew intervention, either delivering or collecting bikes, and estimate workforce deployment based on 15 stations per crew run, ensuring dock availability and maintaining customer satisfaction across the network.

Needs Intervention	Average Imbalance Score	Crew Runs Needed
601	0.34	40

Draining (Add Bikes)

	Station	Imbalance Score	Net Flow
1.	South Quay East, Canary Wharf	0.5	2.13
2.	New North Road 1, Hoxton	0.37	4.53
3.	Spanish Road, Clapham Junction	0.36	4.65
4.	Rossmore Road, Marylebone	0.35	4.83
5.	Here East South, Queen Elizabeth …	0.35	2.86
6.	Stonecutter Street, Holborn	0.33	3.38
7.	Lansdowne Walk, Ladbroke Grove	0.33	4.47
8.	Ladbroke Grove Central, Ladbroke …	0.33	5.94
9.	Clarges Street, Mayfair	0.32	6
10.	Cloudesley Road, Angel	0.32	11.09
11.	Oxford Road, Putney	0.31	2.21
12.	Campden Hill Road, Notting Hill	0.3	5.43
13.	Carey Street, Holborn	0.29	3.14
14	Mexfield Road, East Putney	0.29	4.96

Filling (Remove Bikes)

	Station	Imbalance Score	Net Flow
1.	Cartier Circle, Canary Wharf	0.13	-2
2.	New North Road 1, Hoxton	0.13	-2.25
3.	Harris Academy, Bermondsey	0.11	-2.26
4.	Montgomery Square, Canary W…	0.08	-2.31
5.	Stockwell Roundabout, Stockwell	0.13	-2.35
6.	Malmesbury Road, Bow	0.16	-2.41
7.	Thornfield House, Poplar	0.05	-2.42
8.	Colet Gardens, Hammersmith	0.2	-2.48
9.	Campden Hill Road, Notting Hill	0.09	-2.52
10.	Crimscott Street, Bermondsey	0.17	-2.56
11.	Farringdon Street, Holborn	0.05	-2.59
12.	Lansdowne Walk, Ladbroke Grove	0.13	-2.61
13.	St. Mary & St. Michael Church, …	0.14	-2.61
14	Melton Street, Euston	0.1	-2.65